VŠB TECHNICKÁ UNIVERZITA OSTRAVA

VSB TECHNICAL UNIVERSITY OF OSTRAVA

www.vsb.cz

The Global Positioning System

Adam Wiszczor

VSB – Technical University of Ostrava

adam.wiszczor.st@vsb.cz

November 30, 2025

VSB TECHNICAL UNIVERSITY OF OSTRAVA

What is it?

- Satellite based navigation system

What is it?

- Satellite based navigation system
- Owned by USA (USSF)

What is it?

- Satellite based navigation system
- Owned by USA (USSF)
- One of many GNSSs, sends signals to receivers

What is it?

- Satellite based navigation system
- Owned by USA (USSF)
- One of many GNSSs, sends signals to receivers
  - GLONASS, Galileo, BeiDou, QZSS, NavIC

What is it?

- Satellite based navigation system
- Owned by USA (USSF)
- One of many GNSSs, sends signals to receivers
  - GLONASS, Galileo, BeiDou, QZSS, NavIC
- Usable for free, without internet

History

- Sputnik, Transit, Timation, Omega

History

- Sputnik, Transit, Timation, Omega
- Motivated by SLBMs needing to know their position

History

- Sputnik, Transit, Timation, Omega
- Motivated by SLBMs needing to know their position
- Started in 1973 - Navstar

History

- Sputnik, Transit, Timation, Omega
- Motivated by SLBMs needing to know their position
- Started in 1973 - Navstar
- First satellite launched in 1978

History

- Sputnik, Transit, Timation, Omega
- Motivated by SLBMs needing to know their position
- Started in 1973 - Navstar
- First satellite launched in 1978
- All 24 satellites operational in 1993

History

- Sputnik, Transit, Timation, Omega
- Motivated by SLBMs needing to know their position
- Started in 1973 - Navstar
- First satellite launched in 1978
- All 24 satellites operational in 1993
- Initially military only, made public in 1988 after KAL007 was shot down

History

- Sputnik, Transit, Timation, Omega
- Motivated by SLBMs needing to know their position
- Started in 1973 - Navstar
- First satellite launched in 1978
- All 24 satellites operational in 1993
- Initially military only, made public in 1988 after KAL007 was shot down
- With decreased accuracy though (Selective Availability system)

History

- Sputnik, Transit, Timation, Omega
- Motivated by SLBMs needing to know their position
- Started in 1973 - Navstar
- First satellite launched in 1978
- All 24 satellites operational in 1993
- Initially military only, made public in 1988 after KAL007 was shot down
- With decreased accuracy though (Selective Availability system)
- SA was briefly disabled during the gulf war, fully in 2000

History

- Sputnik, Transit, Timation, Omega
- Motivated by SLBMs needing to know their position
- Started in 1973 - Navstar
- First satellite launched in 1978
- All 24 satellites operational in 1993
- Initially military only, made public in 1988 after KAL007 was shot down
- With decreased accuracy though (Selective Availability system)
- SA was briefly disabled during the gulf war, fully in 2000
- New satellites are being launched

Principles

- Speed of radio waves is constant

Principles

- Speed of radio waves is constant
- So the time delay between transmission and reception is proportional to the distance

Principles

- Speed of radio waves is constant
- So the time delay between transmission and reception is proportional to the distance
- The satellite's position can be found with data from multiple receivers

Principles

- Speed of radio waves is constant
- So the time delay between transmission and reception is proportional to the distance
- The satellite's position can be found with data from multiple receivers
- Satellites carry atomic clocks

Principles

- Speed of radio waves is constant
- So the time delay between transmission and reception is proportional to the distance
- The satellite's position can be found with data from multiple receivers
- Satellites carry atomic clocks
- Each satellite continuously broadcast its position and time

Principles

- Speed of radio waves is constant
- So the time delay between transmission and reception is proportional to the distance
- The satellite's position can be found with data from multiple receivers
- Satellites carry atomic clocks
- Each satellite continuously broadcast its position and time
- A GPS receiver can also calculate its own position and time deviation by solving a system of equations

Principles

- Speed of radio waves is constant
- So the time delay between transmission and reception is proportional to the distance
- The satellite's position can be found with data from multiple receivers
- Satellites carry atomic clocks
- Each satellite continuously broadcast its position and time
- A GPS receiver can also calculate its own position and time deviation by solving a system of equations
- So at least 4 satellites have to be visible

Principles

- Speed of radio waves is constant
- So the time delay between transmission and reception is proportional to the distance
- The satellite's position can be found with data from multiple receivers
- Satellites carry atomic clocks
- Each satellite continuously broadcast its position and time
- A GPS receiver can also calculate its own position and time deviation by solving a system of equations
- So at least 4 satellites have to be visible
- Can be interpreted as an intersection of spheres

More tech

- CO receiver

More tech

- CO receiver
  - The previously calculated values can be used more than once

More tech

- CO receiver
  - The previously calculated values can be used more than once
  - The new positions should be close to one another

More tech

- CO receiver
  - The previously calculated values can be used more than once
  - The new positions should be close to one another
  - After enough measurement, the position is predicted and combined with the received signals

More tech

- CO receiver
  - The previously calculated values can be used more than once
  - The new positions should be close to one another
  - After enough measurement, the position is predicted and combined with the received signals
  - This: improves accuracy, rejects bad measurements, estimates receiver speed and direction

More tech

- CO receiver
  - The previously calculated values can be used more than once
  - The new positions should be close to one another
  - After enough measurement, the position is predicted and combined with the received signals
  - This: improves accuracy, rejects bad measurements, estimates receiver speed and direction
  - But also: Changes in the latter are processed with a delay

More tech

- CO receiver
  - The previously calculated values can be used more than once
  - The new positions should be close to one another
  - After enough measurement, the position is predicted and combined with the received signals
  - This: improves accuracy, rejects bad measurements, estimates receiver speed and direction
  - But also: Changes in the latter are processed with a delay
- Differential GPS

More tech

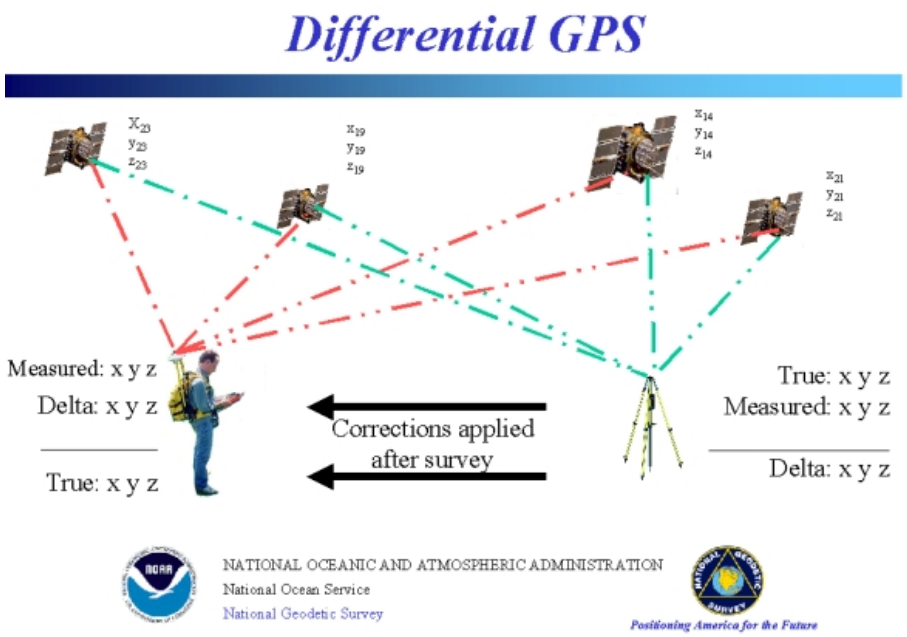

- Differential GPS
  - Base stations with known position

More tech

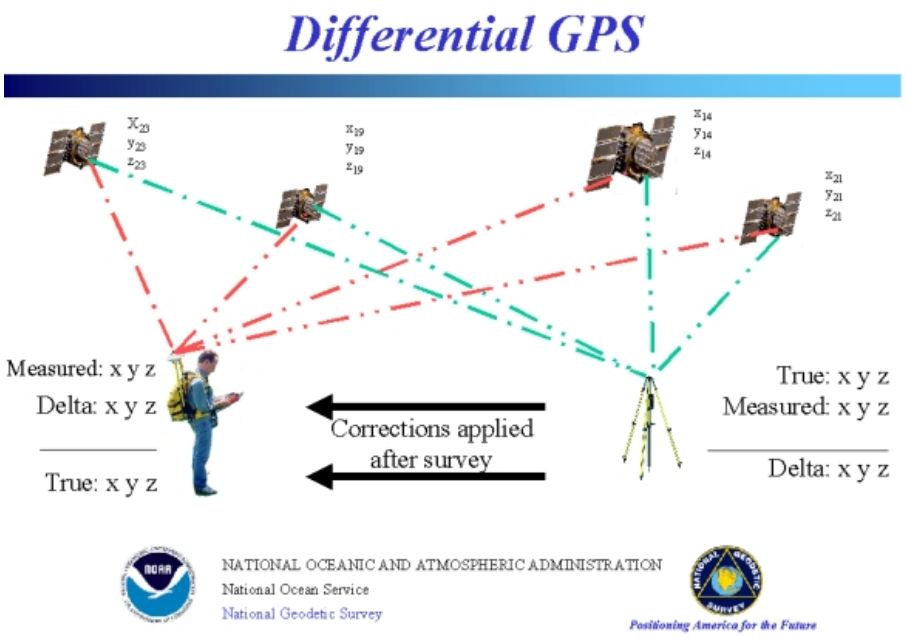

- Differential GPS
  - Base stations with known position
  - These transmit navigation corrections

More tech

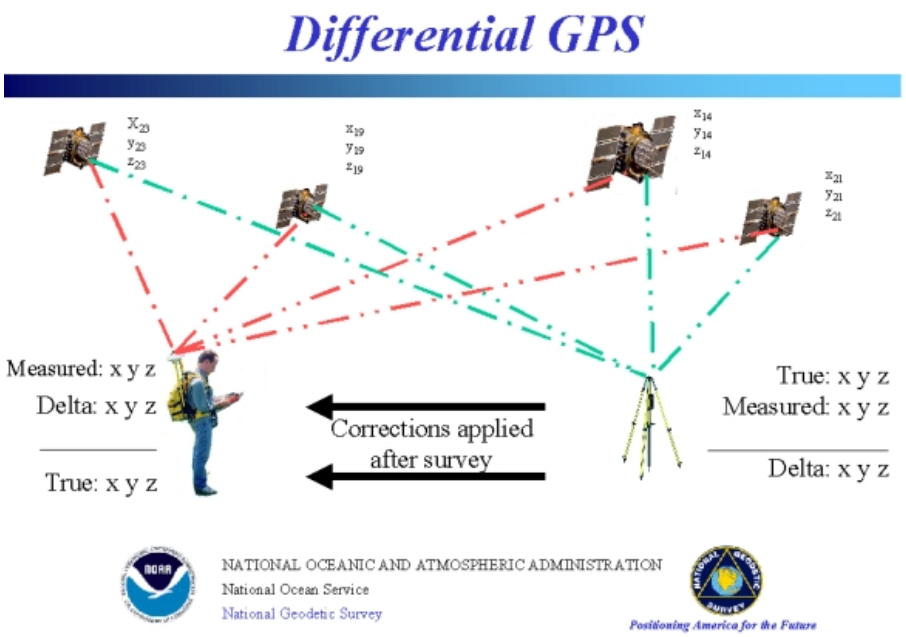

- Differential GPS
  - Base stations with known position
  - These transmit navigation corrections
- Instantaneous velocity can be calculated using the Doppler effect

Space segment

- 24 satellites in six orbital planes (31 current)

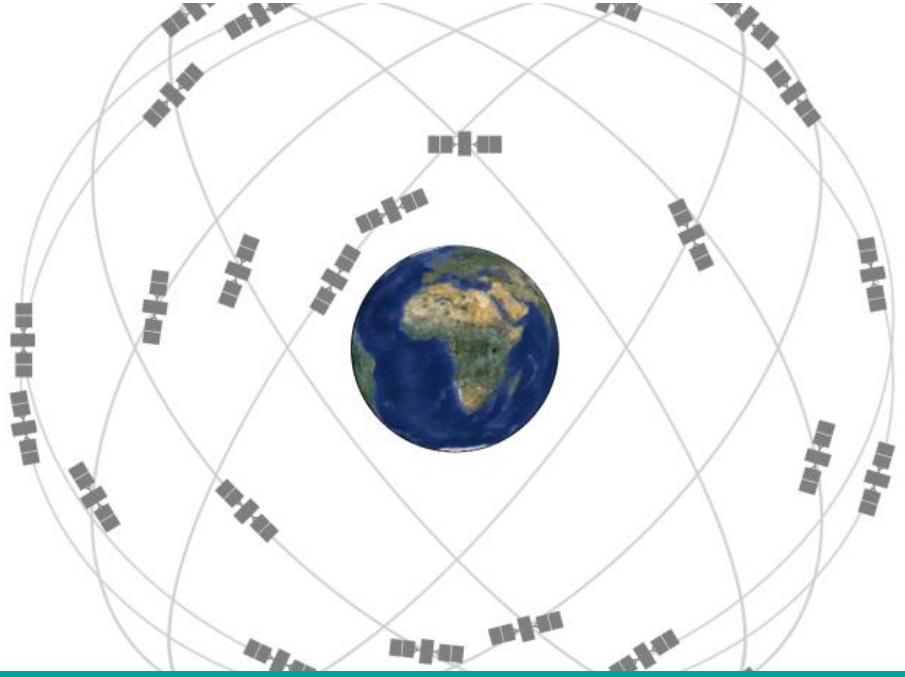

Space segment

- 24 satellites in six orbital planes (31 current)
- Orbit time of 11:58, altitude 20200km

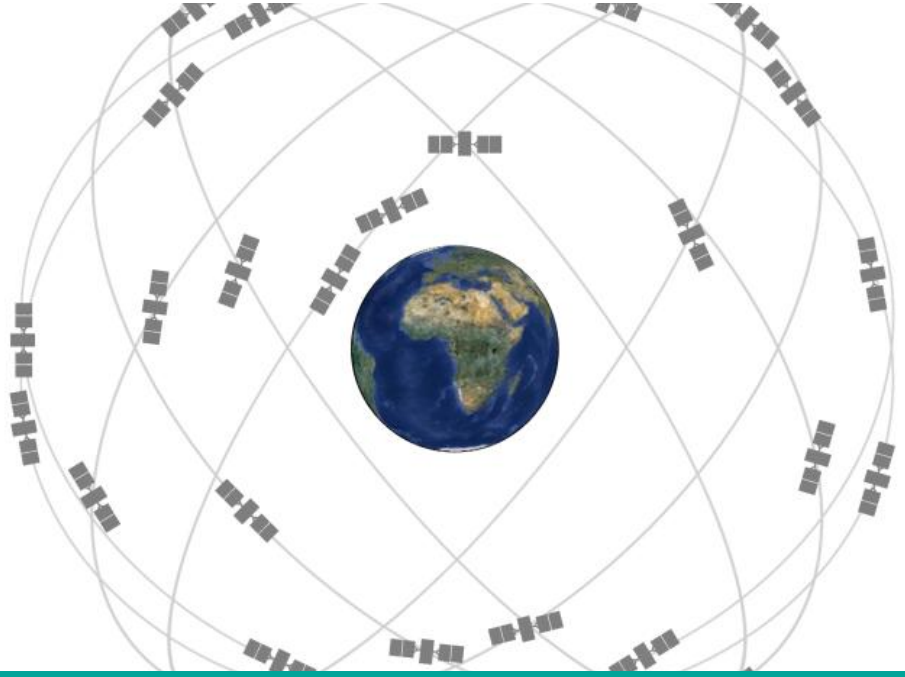

Space segment

- 24 satellites in six orbital planes (31 current)
- Orbit time of 11:58, altitude 20200km
- The orbits are made in a way that at least 6 satellites are always visible from anywhere

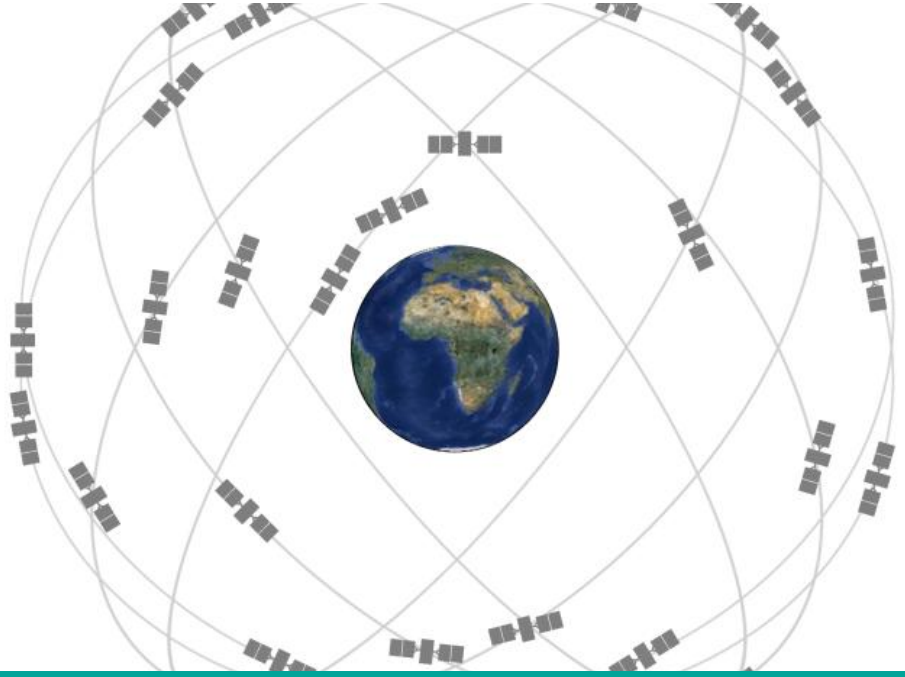

Space segment

- 24 satellites in six orbital planes (31 current)
- Orbit time of 11:58, altitude 20200km
- The orbits are made in a way that at least 6 satellites are always visible from anywhere
- Block II:
  - 900kg
  - 17 meters across
  - 12 helical antennas
  - Receiver antenna
  - Swiveling body

Space segment

- 24 satellites in six orbital planes (31 current)
- Orbit time of 11:58, altitude 20200km
- The orbits are made in a way that at least 6 satellites are always visible from anywhere
- Block II:
  - 900kg
  - 17 meters across
  - 12 helical antennas
  - Receiver antenna
  - Swiveling body

Control segment

- Monitor stations

Control segment

- Monitor stations
  - Track GPS satellites as they pass overhead

Control segment

- Monitor stations
  - Track GPS satellites as they pass overhead
  - Collect navigation signals, range/carrier measurements

Control segment

- Monitor stations
  - Track GPS satellites as they pass overhead
  - Collect navigation signals, range/carrier measurements
  - Feed observations to the MCS

Control segment

- Monitor stations
  - Track GPS satellites as they pass overhead
  - Collect navigation signals, range/carrier measurements
  - Feed observations to the MCS
- Master control station

Control segment

- Monitor stations
  - Track GPS satellites as they pass overhead
  - Collect navigation signals, range/carrier measurements
  - Feed observations to the MCS
- Master control station
  - Provides command and control of the GPS constellation

Control segment

- Monitor stations
  - Track GPS satellites as they pass overhead
  - Collect navigation signals, range/carrier measurements
  - Feed observations to the MCS
- Master control station
  - Provides command and control of the GPS constellation
  - Generates navigation messages for upload to the satellites

Control segment

- Monitor stations
  - Track GPS satellites as they pass overhead
  - Collect navigation signals, range/carrier measurements
  - Feed observations to the MCS
- Master control station
  - Provides command and control of the GPS constellation
  - Generates navigation messages for upload to the satellites
  - Monitors satellite broadcasts and system integrity to ensure constellation health and accuracy

Control segment

- Monitor stations
  - Track GPS satellites as they pass overhead
  - Collect navigation signals, range/carrier measurements
  - Feed observations to the MCS
- Master control station
  - Provides command and control of the GPS constellation
  - Generates navigation messages for upload to the satellites
  - Monitors satellite broadcasts and system integrity to ensure constellation health and accuracy
  - Performs satellite maintenance and anomaly resolution, including repositioning satellites to maintain optimal constellation

Control segment

- Monitor stations
  - Track GPS satellites as they pass overhead
  - Collect navigation signals, range/carrier measurements
  - Feed observations to the MCS
- Master control station
  - Provides command and control of the GPS constellation
  - Generates navigation messages for upload to the satellites
  - Monitors satellite broadcasts and system integrity to ensure constellation health and accuracy
  - Performs satellite maintenance and anomaly resolution, including repositioning satellites to maintain optimal constellation
- Ground antennas

Control segment

- Monitor stations
  - Track GPS satellites as they pass overhead
  - Collect navigation signals, range/carrier measurements
  - Feed observations to the MCS
- Master control station
  - Provides command and control of the GPS constellation
  - Generates navigation messages for upload to the satellites
  - Monitors satellite broadcasts and system integrity to ensure constellation health and accuracy
  - Performs satellite maintenance and anomaly resolution, including repositioning satellites to maintain optimal constellation
- Ground antennas
  - Send commands, navigation data uploads, and processor program loads to the satellites

Control segment

- Monitor stations
  - Track GPS satellites as they pass overhead
  - Collect navigation signals, range/carrier measurements
  - Feed observations to the MCS
- Master control station
  - Provides command and control of the GPS constellation
  - Generates navigation messages for upload to the satellites
  - Monitors satellite broadcasts and system integrity to ensure constellation health and accuracy
  - Performs satellite maintenance and anomaly resolution, including repositioning satellites to maintain optimal constellation
- Ground antennas
  - Send commands, navigation data uploads, and processor program loads to the satellites
  - Atomic clock offsets, trajectories.

Control segment

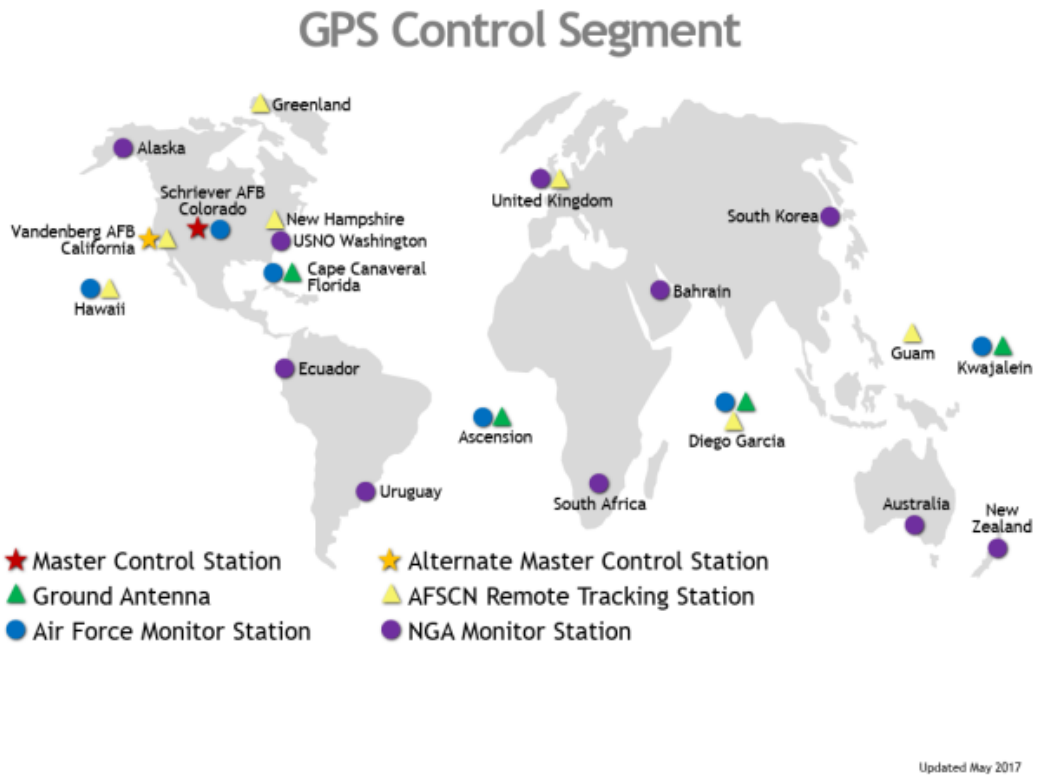

- Ground antennas
  - Send commands, navigation data uploads, and processor program loads to the satellites
  - Atomic clock offsets, trajectories.

User segment

- Military equipment

User segment

- Military equipment
  - Vehicles

User segment

- Military equipment
  - Vehicles
  - Missiles, artillery shells

User segment

- Military equipment
  - Vehicles
  - Missiles, artillery shells
- Civilian segment

User segment

- Military equipment
  - Vehicles
  - Missiles, artillery shells
- Civilian segment
  - Planes, ships, automobiles, trains, farming equipment,...

User segment

- Military equipment
  - Vehicles
  - Missiles, artillery shells
- Civilian segment
  - Planes, ships, automobiles, trains, farming equipment,...
  - Mobile phones, geotags,...

User segment

- Military equipment
  - Vehicles
  - Missiles, artillery shells
- Civilian segment
  - Planes, ships, automobiles, trains, farming equipment,...
  - Mobile phones, geotags,...
  - Surveying, entertainment...

User segment

- Military equipment
  - Vehicles
  - Missiles, artillery shells
- Civilian segment
  - Planes, ships, automobiles, trains, farming equipment,...
  - Mobile phones, geotags,...
  - Surveying, entertainment...
- Other uses

User segment

- Military equipment
  - Vehicles
  - Missiles, artillery shells
- Civilian segment
  - Planes, ships, automobiles, trains, farming equipment,...
  - Mobile phones, geotags,...
  - Surveying, entertainment...
- Other uses
  - Cheap and accurate time synchronization

User segment

- Military equipment
  - Vehicles
  - Missiles, artillery shells
- Civilian segment
  - Planes, ships, automobiles, trains, farming equipment,...
  - Mobile phones, geotags,...
  - Surveying, entertainment...
- Other uses
  - Cheap and accurate time synchronization
  - Studying the atmosphere

User segment

- Military equipment
  - Vehicles
  - Missiles, artillery shells
- Civilian segment
  - Planes, ships, automobiles, trains, farming equipment,...
  - Mobile phones, geotags,...
  - Surveying, entertainment...
- Other uses
  - Cheap and accurate time synchronization
  - Studying the atmosphere
  - Fewer satellites are needed when some values are already known

References

National Coordination Office for Space-Based Positioning, Navigation, and Timing,
GPS, https://www.gps.gov,
Accessed 30/11/2025.

Logsdon, Tom S.,
"GPS", https://www.britannica.com/technology/GPS,
Encyclopedia Britannica, 2/9/2025, Accessed 30/11/2025.

Wikipedia contributors,
"Global Positioning System",
https://en.wikipedia.org/w/index.php?title=Global_Positioning_System

Wikipedia, The Free Encyclopedia, 26/11/2025, Accessed 30/11/2025.

Thank you for your attention

Adam Wiszczor

VSB – Technical University of Ostrava

adam.wiszczor.st@vsb.cz

November 30, 2025

VSB TECHNICAL UNIVERSITY OF OSTRAVA